GeoReasoner: Geo-localization with Reasoning in Street Views using a Large Vision-Language Model

香港科技大学(广州)
THE HONG KONG UNIVERSITY OF SCIENCE AND TECHNOLOGY (GUANGZHOU)

Ling Li, Yu Ye, Bingchuan Jiang, Wei Zeng

ICML International Conference On Machine Learning

Introduction

This work tackles the problem of geo-localization with **a new paradigm** using a large vision-language model (LVLM) augmented with human inference knowledge.

Challenge: The scarcity of data for training the LVLM - existing street-view datasets often contain numerous low-quality images lacking visual clues, and lack any reasoning inference.

Dataset: We devise a CLIP-based network to quantify the **locatability** of street-view images, resulting in the creation of a new dataset comprising highly locatable street views. Additionally, we integrate external knowledge obtained from real geo-localization games, tapping into valuable human inference capabilities.

Model: **GeoReasoner**, which undergoes fine-tuning through dedicated reasoning and location-tuning stages, outperforms counterpart LVLMs by more than 25% at country-level and 38% at city-level geo-localization tasks, and surpasses StreetCLIP in performance while requiring fewer training resources.

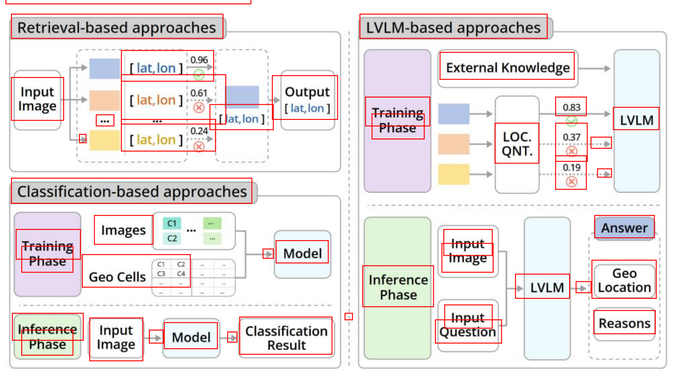

Data Curation

Street-View Images: A total of over 130k street-view images with geo-tags collected from Google Street View

Textual Clues: A total of over 3K textual clues that encapsulate rich geo-localization information from *GeoGuessr* and *Tuxun* communities

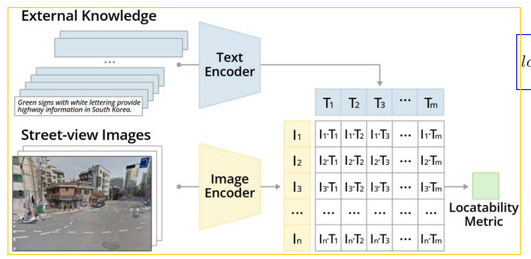

$$locatability(\mathbf{I}_{seg}, \mathbf{w}_{loc}) = \sum_{k=1}^{n} \mathbf{I}_{seg}(k) \cdot \mathbf{w}_{loc}^{k}$$

The locatability quantization network devises a CLIP-based visual-text pairing approach to predict the locatability metric.

Geo-localization with Reasoning

The architecture of **GeoReasoner** consists of three modules: Vision Encoder, VL Adapter and Pre-trained LLM. The model undergoes a two-fold supervised fine-tuning process: reasoning tuning and location tuning, to enable geo-localization with reasoning.

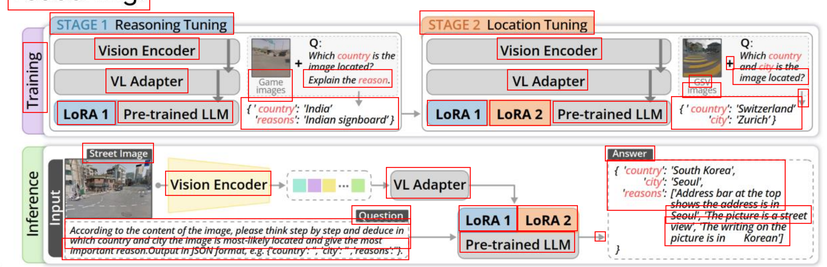

Experiments

Locatability Quantization Method

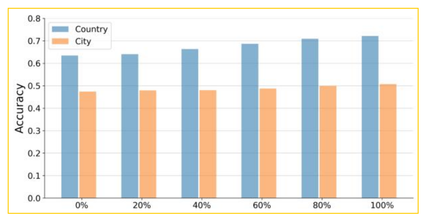



GeoReasoner

Comparison of Precision, Recall and F1 scores in country-level and city-level geo-localization. * represents the model trained on high-locatability GSV images.

Model	Country Accuracy↑	Country Recall↑	Country F1↑	City Accuracy↑	City Recall↑	City F1↑
StreetCLIP (Haas et al., 2023)	0.7943	1.00	0.8854	0.7457	1.00	0.8543
LLaVA (Liu et al., 2024)	0.4029	1.00	0.5744	0.2400	1.00	0.3871
Qwen-VL (Qwen-7B) (Bai et al., 2023a)	0.5829	0.95	0.7225	0.3743	0.89	0.5270
GPT-4V (Achiam et al., 2023)	0.8917	0.34	0.4923	0.5083	0.31	0.3851
ViT* (Dosovitskiy et al., 2021)	0.7100	1.00	0.8304	0.6762	1.00	0.8068
GeoReasoner*	0.8237	1.00	**0.9033**	0.7521	1.00	**0.8585**

Results of the ablation experiments

Model	Training: Reasoning	Training: Location	Performance: Country Accuracy↑	Country Recall↑	Country F1↑	City Accuracy↑	City Recall↑	City F1↑
Qwen-VL (Qwen-7B)	-	-	0.5829	0.95	0.7225	0.3743	0.89	0.5270
GeoReasoner w/o location tuning	✓	×	0.6971	1.00	0.8215	0.4114	0.99	0.5813
GeoReasoner w/o reasoning tuning	×	✓	0.7803	1.00	0.8766	0.7029	1.00	0.8255
GeoReasoner	✓	✓	**0.8237**	1.00	**0.9033**	**0.7521**	1.00	**0.8584**

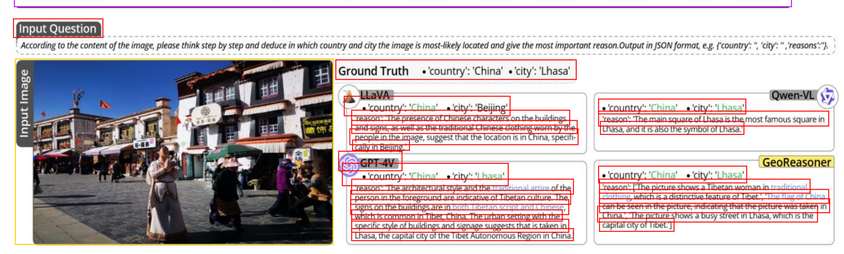

Contributions

- We present a new paradigm that leverages an LVLM and external knowledge of human inference for geolocalization with reasoning from street-view images.
- We introduce the concept of locatability and devise a CLIP-based network to quantify the degree of locatability in street-view images.
- We propose GeoReasoner, an LVLM that outperforms existing geo-localization models and provides detailed reasoning for the inferred results.